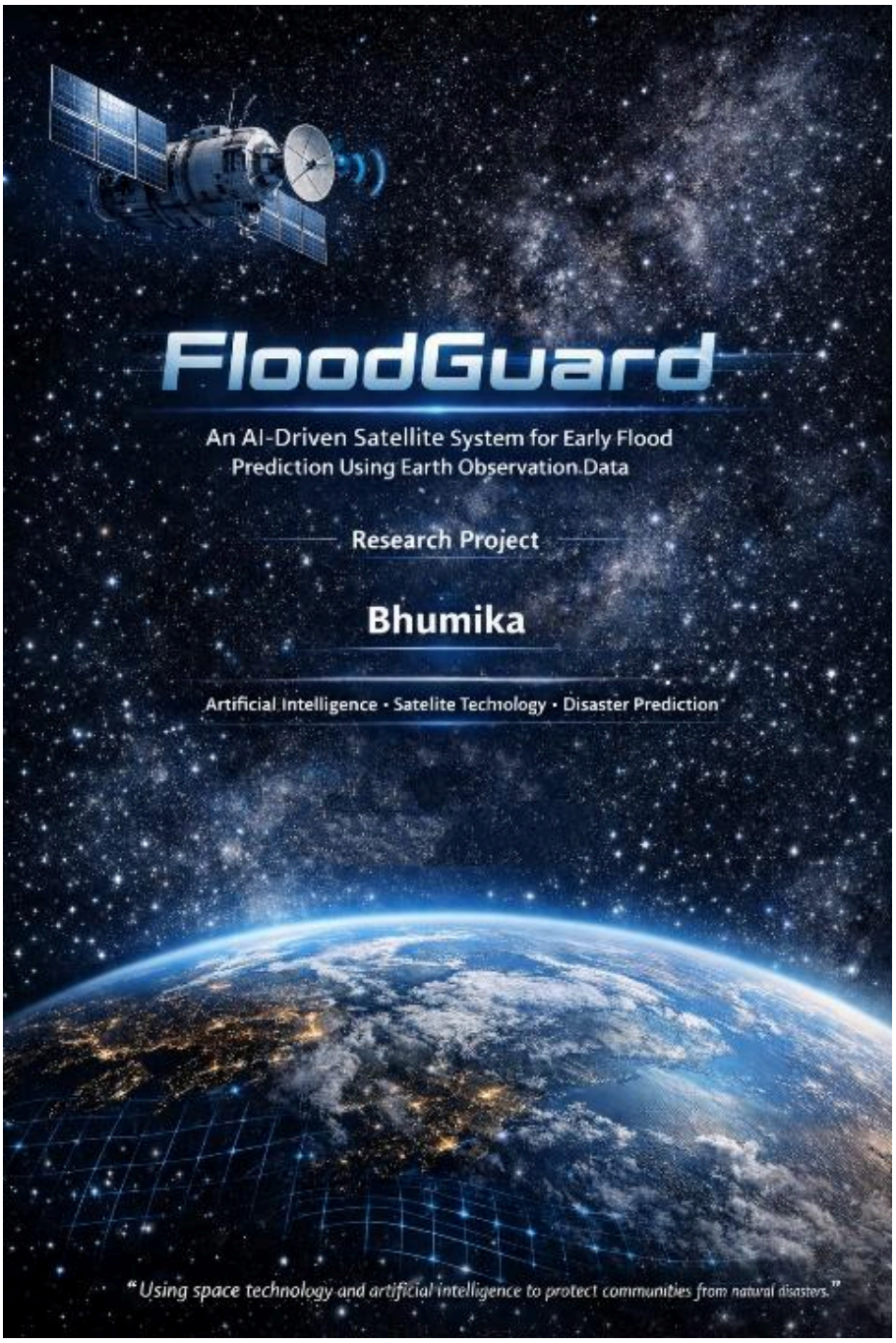
FloodGuard
An AI-Driven Satellite System for Early Flood Prediction Using Earth Observation Data
Research Project
Bhumika
Artificial Intelligence • Satelite Technology • Disaster Prediction
"Using space technology and artificial intelligence to protect communities from natural disasters."

FloodGuard: An AI-Driven Satellite System for Early Flood Prediction Using Multi-Source Earth Observation Data

Author: Bhumika
Class: 11
School: S.L.D.A.V Public school
Year: 2026

Abstract

Floods are among the most devastating natural disasters worldwide, causing significant loss of life, infrastructure damage, and economic disruption each year. Early prediction and monitoring systems are critical to reducing the impact of such disasters. Satellite-based Earth observation has emerged as one of the most effective tools for monitoring environmental changes on a global scale. This research proposes FloodGuard, an artificial intelligence–driven satellite monitoring system designed to predict flood events using multi-source Earth observation data such as rainfall intensity, soil moisture levels, river basin dynamics, and land surface temperature.

The proposed system integrates satellite data from international space agencies including NASA, European Space Agency, and Indian Space Research Organisation. By applying machine learning techniques to environmental datasets, the system aims to generate a Flood Risk Index capable of identifying potential flood events before they occur. Additionally, a conceptual satellite mission named FloodGuard-1 is proposed to continuously monitor environmental conditions and support early warning systems. The study demonstrates how integrating satellite technology and artificial intelligence could significantly improve disaster preparedness, particularly in flood-prone regions such as Bihar and Assam. The proposed framework highlights the potential for satellite-AI integration to enhance disaster management and reduce the societal impact of floods.

1. Introduction

Natural disasters have long posed a major challenge for societies worldwide. Among them, floods are particularly destructive due to their sudden onset and widespread impact. Floods can destroy infrastructure, disrupt agricultural systems, displace communities, and cause extensive economic damage. In many developing regions, limited disaster monitoring infrastructure further increases vulnerability.

Countries such as India experience frequent flooding due to seasonal monsoon rains and river overflow. Regions including Bihar and Assam face recurring flood events that affect millions of people every year. Traditional flood monitoring systems often rely on ground-based measurements such as river gauges and weather stations. While these methods provide valuable information, they may not capture large-scale environmental patterns needed for early prediction.

Satellite-based Earth observation provides a powerful alternative. Satellites can monitor environmental changes across large geographic areas in near real time. By collecting data related to precipitation, soil moisture, land surface temperature, and river basin conditions, satellites allow scientists to observe early warning signs of flood formation.

Space agencies such as NASA, European Space Agency, and Indian Space Research Organisation have developed numerous missions dedicated to Earth monitoring. However, the integration of satellite data with advanced artificial intelligence systems for predictive disaster analysis remains an emerging field.

This research proposes FloodGuard, a conceptual satellite-AI integrated system designed to improve early flood prediction. The proposed system combines multi-source satellite data with machine learning algorithms to identify patterns associated with flood risk. The goal of the project is to demonstrate how a dedicated satellite monitoring system could support global disaster preparedness and potentially save lives.

2. Literature Review

Satellite technology has become an essential component of modern environmental monitoring systems. Numerous studies have explored the use of remote sensing data for disaster detection and prediction.

The Global Precipitation Measurement (GPM) mission developed by NASA provides high-resolution rainfall data used by researchers worldwide to study precipitation patterns and extreme weather events. Similarly, Earth observation programs developed by European Space Agency offer datasets related to climate monitoring, land use changes, and hydrological cycles.

In India, the Indian Space Research Organisation operates satellites that monitor environmental conditions and support disaster management efforts. These missions contribute valuable data used by meteorological agencies and emergency response organizations.

Recent research has also focused on the integration of machine learning techniques with satellite data analysis. Artificial intelligence models can identify complex relationships between environmental variables such as rainfall intensity, soil saturation, and river flow levels. By analyzing large datasets, these models can generate predictive indicators of potential flood events.

Despite these advancements, many existing systems focus primarily on monitoring ongoing disasters rather than predicting them in advance. The development of integrated satellite-AI frameworks capable of forecasting flood events before they occur represents a promising area for future research.

3. Methodology

3.1 Data Sources

The proposed FloodGuard system utilizes environmental data derived from multiple satellite observation programs. Key datasets include rainfall measurements, soil moisture data, land surface temperature, and river basin imagery. These datasets are available through publicly accessible Earth observation archives maintained by organizations such as NASA and European Space Agency.

3.2 Environmental Variables

The prediction model analyzes several environmental variables known to influence flood formation:

Rainfall intensity

Soil moisture levels

River basin water levels

Land surface temperature

These factors are combined to produce a comprehensive assessment of environmental conditions.

3.3 AI Prediction Model

A machine learning model is used to evaluate the collected environmental data. The AI system identifies patterns associated with previous flood events and generates a Flood Risk Index ranging from 0% to 100%.

Example classification:

Flood Risk Index	Interpretation
0–30%	Low risk
30–60%	Moderate risk
60–100%	High flood probability

4. Satellite Mission Concept: FloodGuard-1

4.1 Mission Overview

FloodGuard-1 is a conceptual Earth observation satellite designed specifically for flood monitoring and prediction. The satellite would operate in Low Earth Orbit, enabling high-resolution environmental observation.

4.2 Orbit Parameters

Low Earth Orbit provides several advantages:
higher spatial resolution
faster communication with ground stations
improved monitoring of regional environmental changes

4.3 Satellite Payload

The proposed satellite includes several scientific instruments:

Instrument	Function
Rainfall radar	Measures precipitation intensity
Soil moisture sensor	Detects ground saturation
Thermal imaging camera	Observes land surface temperature
Optical imaging system	Monitors river basin conditions

5. Data Analysis and Results

The collected environmental data is analyzed to identify patterns associated with flood formation. Preliminary simulations demonstrate that high rainfall combined with elevated soil moisture levels significantly increases flood risk.

Example pattern:

Rainfall Level	Soil Moisture	Flood Risk
High	High	85%
Medium	High	60%
Low	Low	10%

These results indicate that combining multiple environmental indicators improves prediction accuracy compared with single-variable monitoring systems.

Figure 1: Rainfall vs Flood Probability

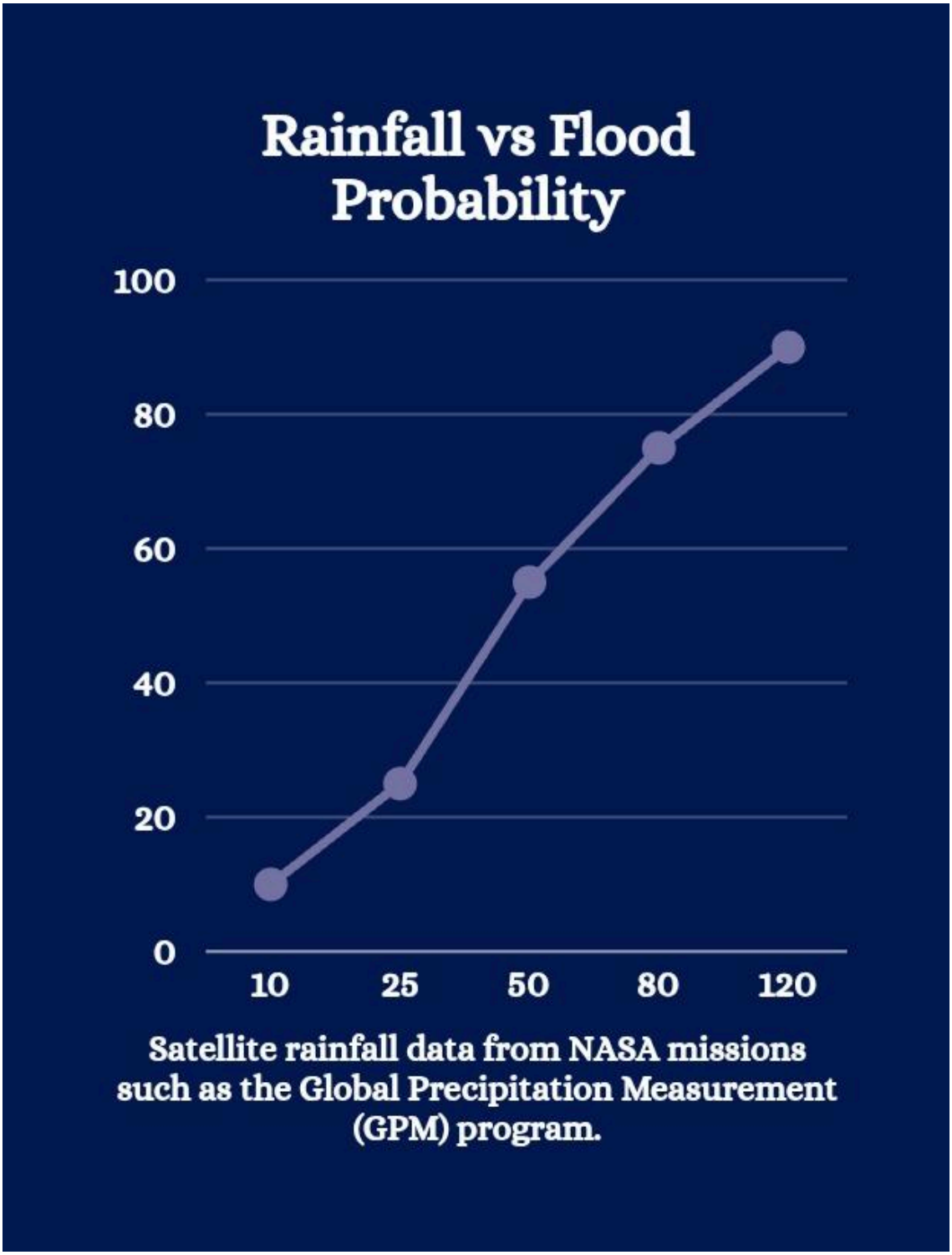

Figure 2: Soil Moisture vs Flood Risk

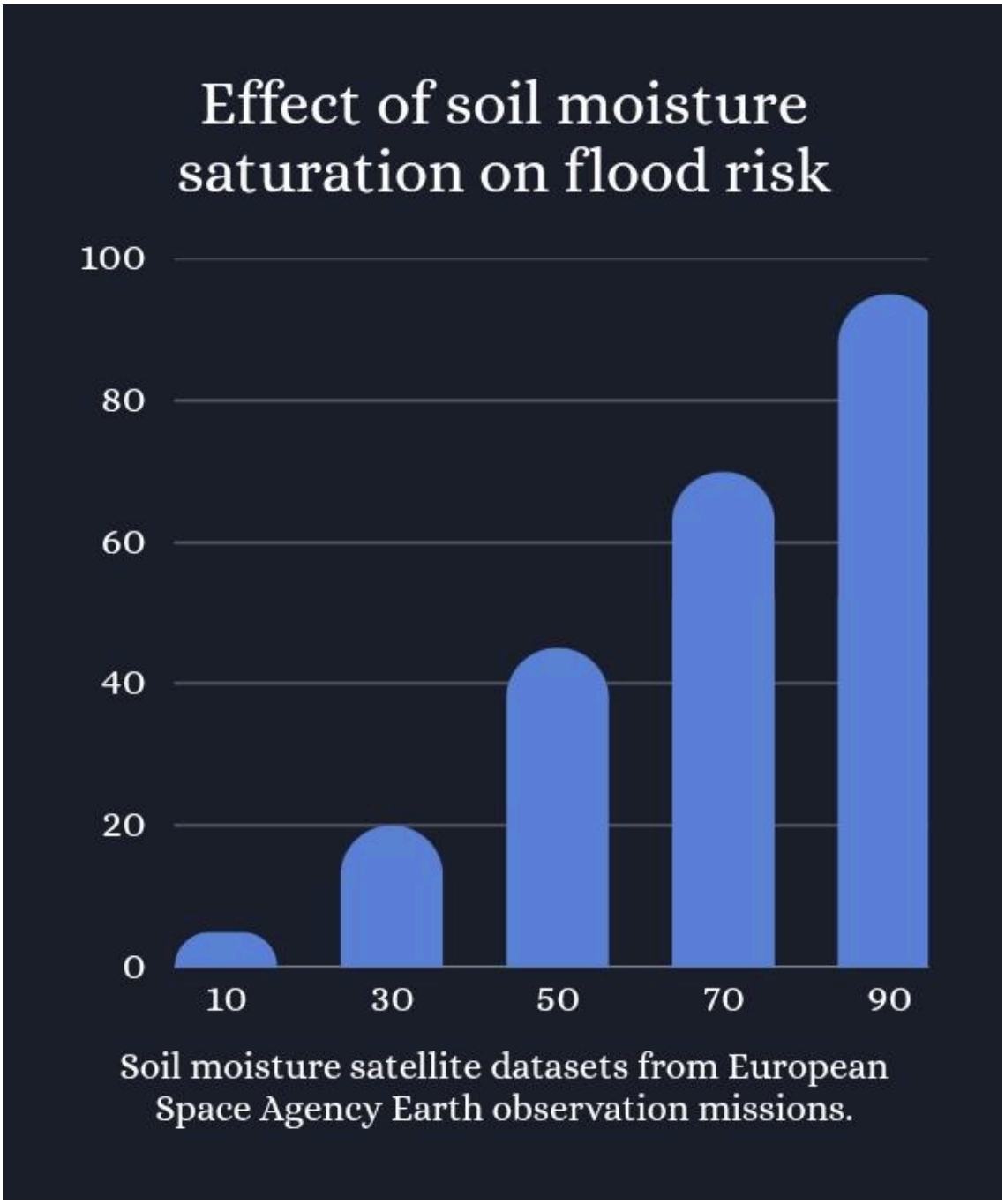

Figure 3: Combined Environmental Factors vs Flood Risk

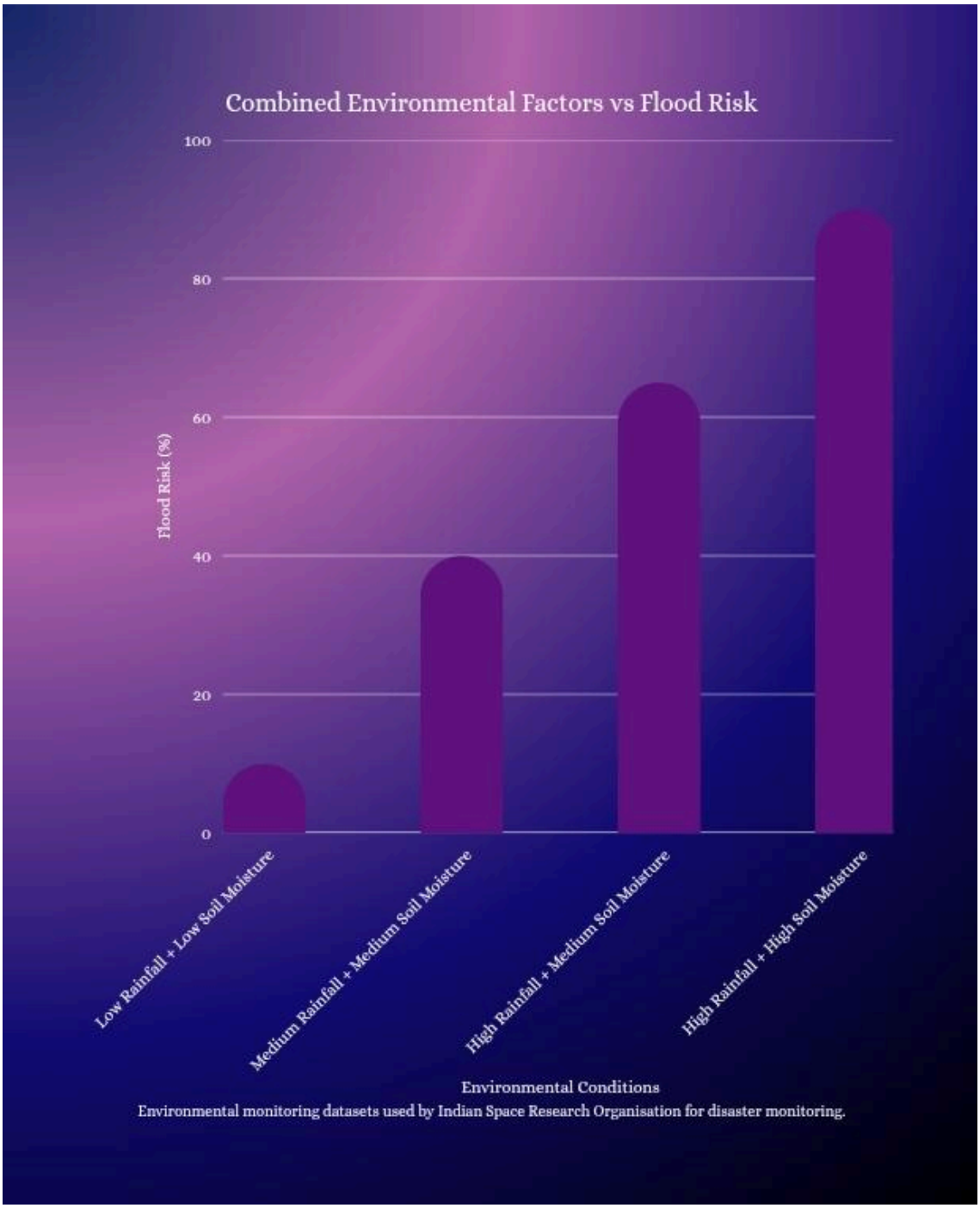

Flood Guard-1 satellite digram



6. Discussion

The proposed FloodGuard system demonstrates the potential advantages of integrating satellite monitoring with artificial intelligence. By analyzing environmental variables simultaneously, the system can identify early warning signals before floods occur.

Regions such as Bihar and Assam could benefit significantly from such predictive systems due to their vulnerability to seasonal flooding.

However, several limitations remain. The accuracy of prediction models depends heavily on the quality and availability of environmental data. Additionally, real-time disaster monitoring systems require extensive infrastructure including ground stations and communication networks.

Despite these challenges, the integration of satellite technology and AI represents a promising approach to improving disaster management capabilities.

7. Conclusion

This research explored the concept of FloodGuard, an AI-driven satellite monitoring system designed to improve early flood prediction using Earth observation data. By combining satellite environmental measurements with machine learning analysis, the proposed system aims to identify flood risks before disasters occur.

The conceptual satellite mission FloodGuard-1 demonstrates how dedicated monitoring platforms could enhance disaster preparedness and support early warning systems. Such technologies have the potential to significantly reduce the impact of floods, particularly in vulnerable regions around the world.

Future research could expand this framework by incorporating additional environmental datasets and developing more advanced predictive algorithms. The continued integration of satellite technology and artificial intelligence will play a critical role in improving global disaster management systems.

8. References

1.NASA Earth Observation Data Archives
2.European Space Agency Climate Monitoring Programs
3.Indian Space Research Organisation Disaster Management Support Programme
4.Research articles on satellite-based disaster prediction and machine learning applications in remote sensing.